José Mário de Lima Barbosa Júnior

Geospatial Analyst | Remote Sensing | Environmental Analysis

Pernambuco, Brazil (Open to Remote Work)
+55 (81) 99679-4711
josemariodelimabarbosajunior3@gmail.com
https://www.linkedin.com/in/mariobarbosa04/

Geospatial Analyst with a background in remote sensing, environmental monitoring, and spatial data analysis. Experienced in land use and land cover mapping, hydrographic analysis, vegetation indices (NDVI), and climate and environment interactions. Skilled in processing satellite imagery (Landsat and Sentinel), GIS-based modeling, and environmental diagnostics. Currently pursuing a Master's degree focused on climate variability and agricultural production in Northeast Brazil.

Education

Master's Degree in Geography (Expected start: April 2026)

Federal University of Pernambuco (UFPE), Recife, Brazil

Research Area: Climate Variability, Agricultural Production, and Environmental Analysis

Bachelor of Geography

Federal University of Pernambuco (UFPE), Recife, Brazil

(2021-2025)

Certifications

- Python with Emphasis in Geoprocessing (2024)
- AdaptaBrasil Platform Training – National Institute for Space Research (2024)
- Introduction to Climate Change – UNITAR (2024)
- Environmental Planning – Federal Institute of Rio Grande do Sul (2024)
- ISO 14001:2015 Environmental Management System Awareness – The Open University

Professional Experience

Administrative Director

MapGeo Jr. Consultancy – Recife, Brazil

Apr 2023 – Apr 2024

- Coordinated internal operations and strategic meetings
- Managed project timelines and staff workload tracking
- Supervised documentation and certificate issuance for academic events
- Supported GIS-related consultancy activities

Projects & Research

Undergraduate Researcher – FACEPE Scholarship

Environmental Diagnosis of the Botafogo River Basin (BHRB) – Pernambuco, Brazil

- Conducted watershed environmental assessment
- Identified and classified springs
- Performed hydrographic and land use analysis
- Produced technical environmental reports for water resource planning

Technical Skills

GIS & Spatial Analysis: QGIS, ArcGIS
Remote Sensing: Landsat, Sentinel, Google Earth Engine
Programming: Python (geospatial analysis, data processing)
Methods: LULC classification, NDVI, hydrographic analysis, climate data analysis

Languages

Portuguese – Native
English – Intermediate (Professional Working Proficiency)
Spanish – Intermediate

PROJECTS

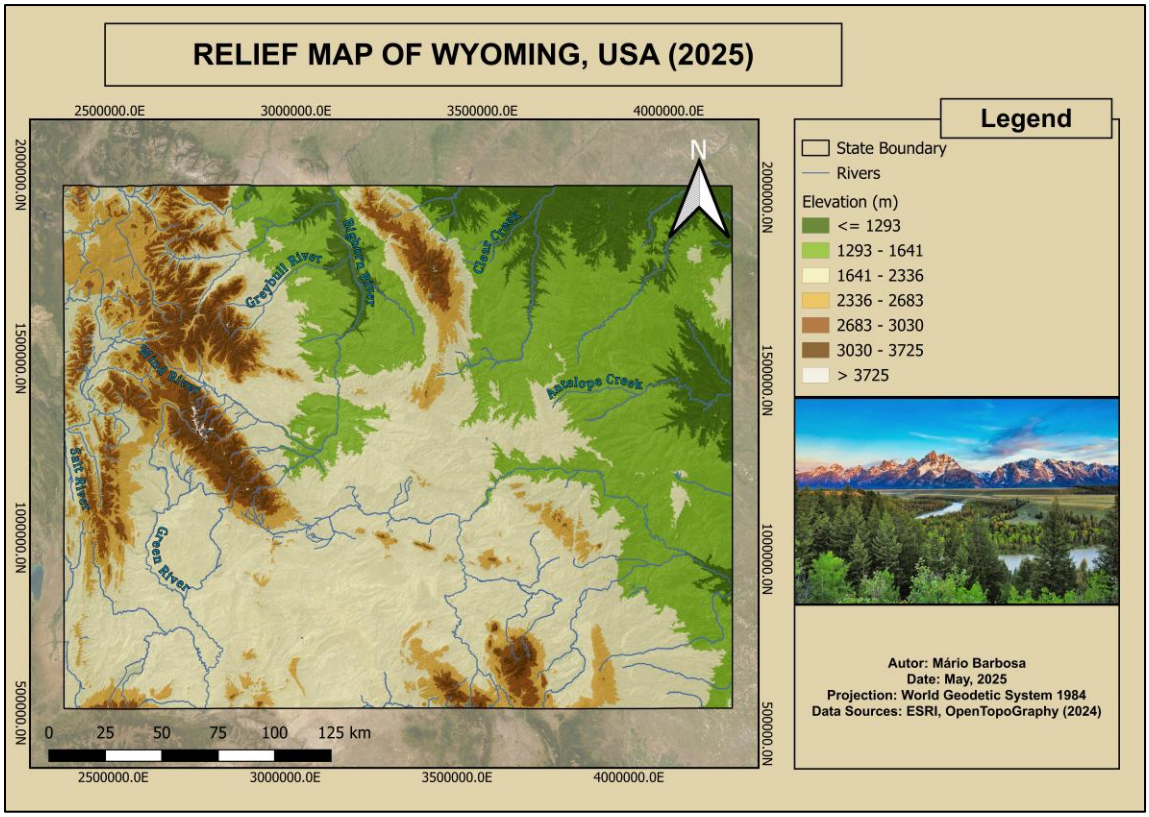
RELIEF MAP OF WYOMING, USA (2025)
2500000.0E
3000000.0E
3500000.0E
4000000.0E
2000000.0N
1500000.0N
1000000.0N
500000.0N
N
Greyball River
Blacktail River
Clear Creek
Antelope Creek
Salt River
Green River
0 25 50 75 100 125 km
Legend
State Boundary
Rivers
Elevation (m)
<= 1293
1293 - 1641
1641 - 2336
2336 - 2683
2683 - 3030
3030 - 3725
> 3725
Autor: Mário Barbosa
Date: May, 2025
Projection: World Geodetic System 1984
Data Sources: ESRI, OpenTopoGraphy (2024)

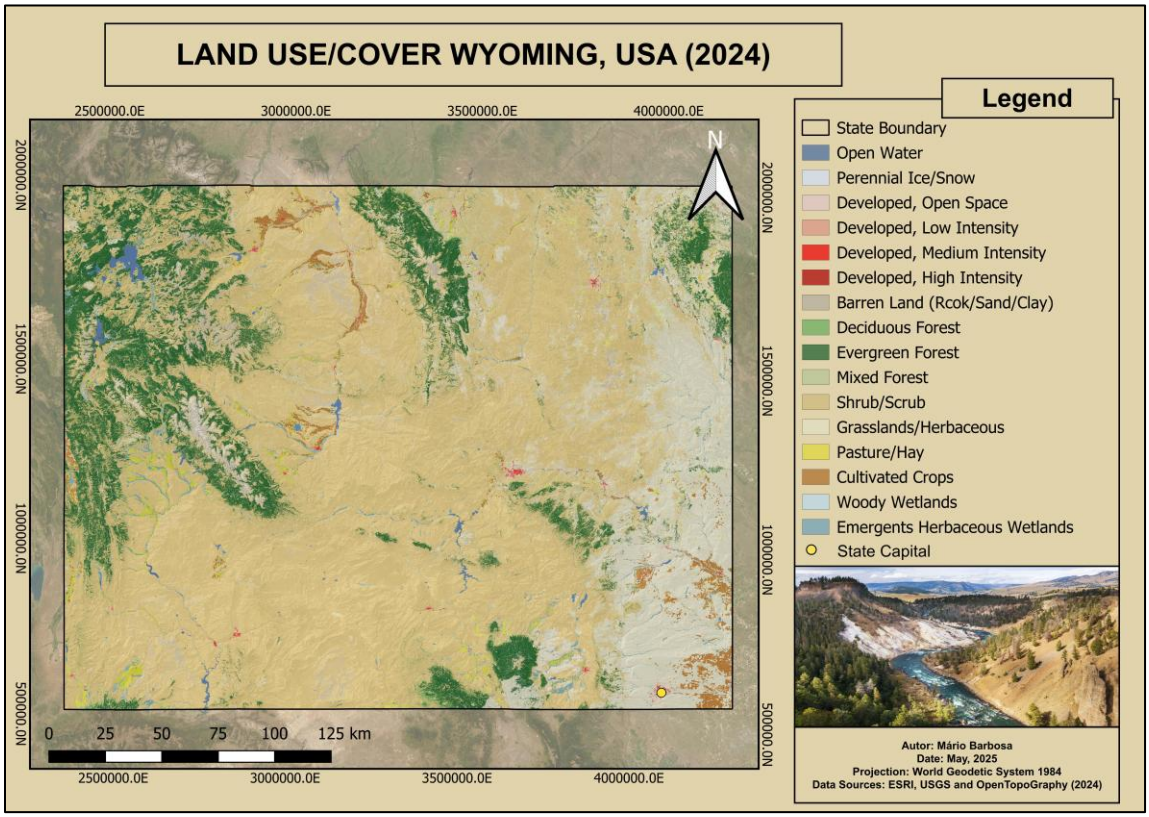
LAND USE/COVER WYOMING, USA (2024)
2500000.0E
3000000.0E
3500000.0E
4000000.0E
2000000.0N
1500000.0N
1000000.0N
500000.0N
N
0 25 50 75 100 125 km
Legend
State Boundary
Open Water
Perennial Ice/Snow
Developed, Open Space
Developed, Low Intensity
Developed, Medium Intensity
Developed, High Intensity
Barren Land (Rcok/Sand/Clay)
Deciduous Forest
Evergreen Forest
Mixed Forest
Shrub/Scrub
Grasslands/Herbaceous
Pasture/Hay
Cultivated Crops
Woody Wetlands
Emergents Herbaceous Wetlands
State Capital
Autor: Mário Barbosa
Date: May, 2025
Projection: World Geodetic System 1984
Data Sources: ESRI, USGS and OpenTopoGraphy (2024)

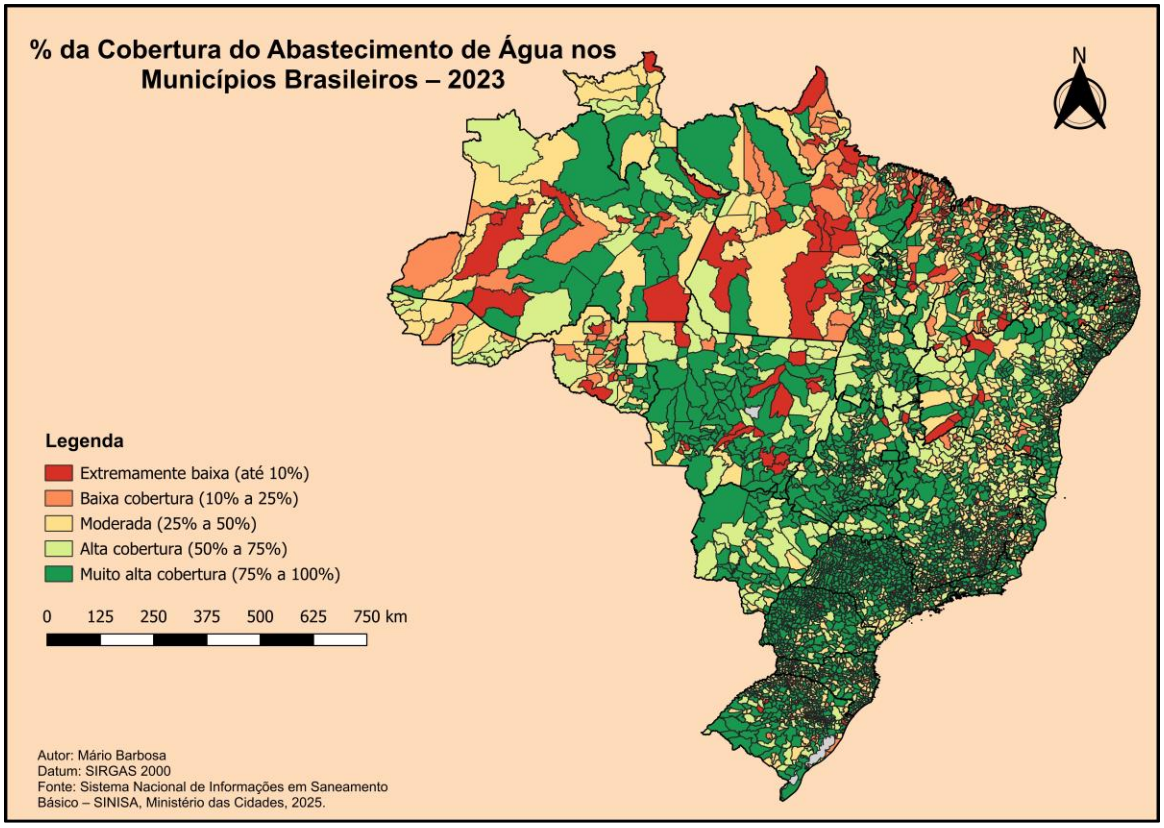
% da Cobertura do Abastecimento de Água nos Municípios Brasileiros – 2023
N
Legenda
Extremamente baixa (até 10%)
Baixa cobertura (10% a 25%)
Moderada (25% a 50%)
Alta cobertura (50% a 75%)
Muito alta cobertura (75% a 100%)
0 125 250 375 500 625 750 km
Autor: Mário Barbosa
Datum: SIRGAS 2000
Fonte: Sistema Nacional de Informações em Saneamento Básico – SINISA, Ministério das Cidades, 2025.

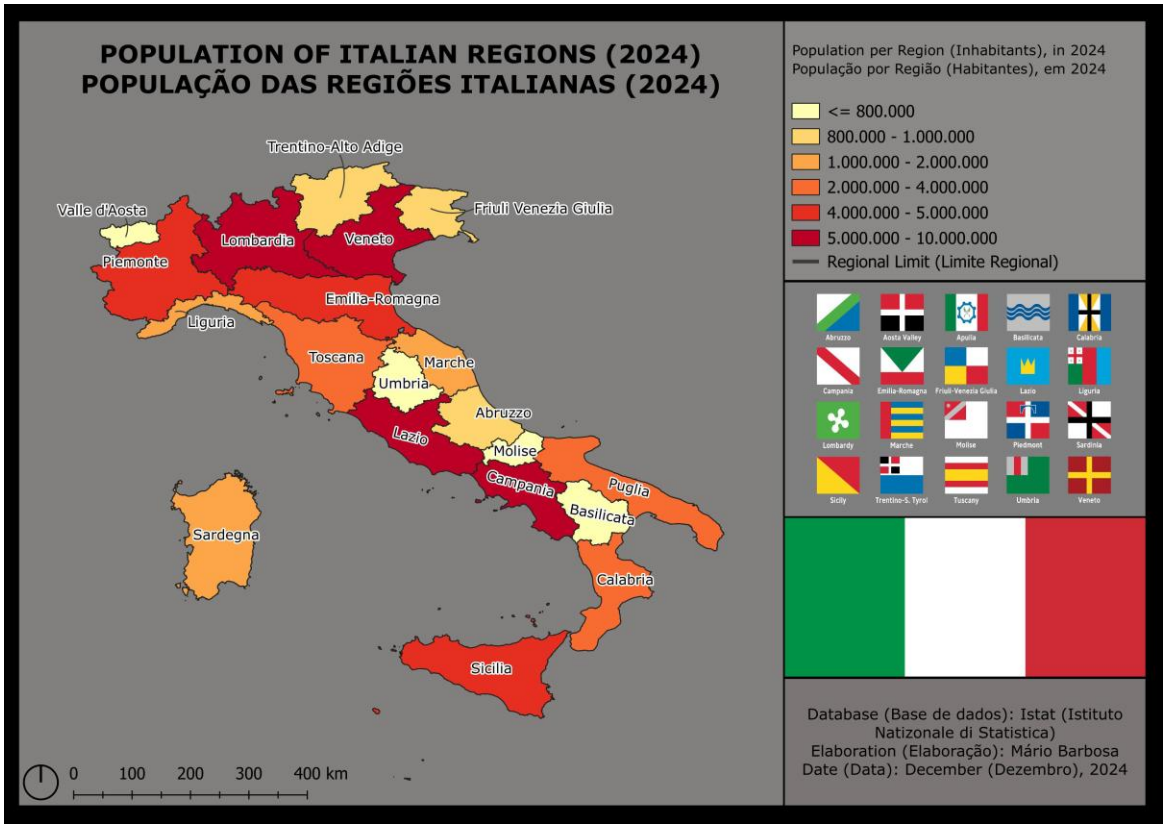
POPULATION OF ITALIAN REGIONS (2024)
POPULAÇÃO DAS REGIÕES ITALIANAS (2024)
Trentino-Alto Adige
Valle d'Aosta
Friuli Venezia Giulia
Lombardia
Veneto
Piemonte
Emilia-Romagna
Liguria
Toscana
Marche
Umbria
Abruzzo
Lazio
Molise
Campania
Puglia
Basilicata
Sardegna
Calabria
Sicilia
0 100 200 300 400 km
Population per Region (Inhabitants), in 2024
População por Região (Habitantes), em 2024
<= 800.000
800.000 - 1.000.000
1.000.000 - 2.000.000
2.000.000 - 4.000.000
4.000.000 - 5.000.000
5.000.000 - 10.000.000
Regional Limit (Limite Regional)
Database (Base de dados): Istat (Istituto Natizonale di Statistica)
Elaboration (Elaboração): Mário Barbosa
Date (Data): December (Dezembro), 2024

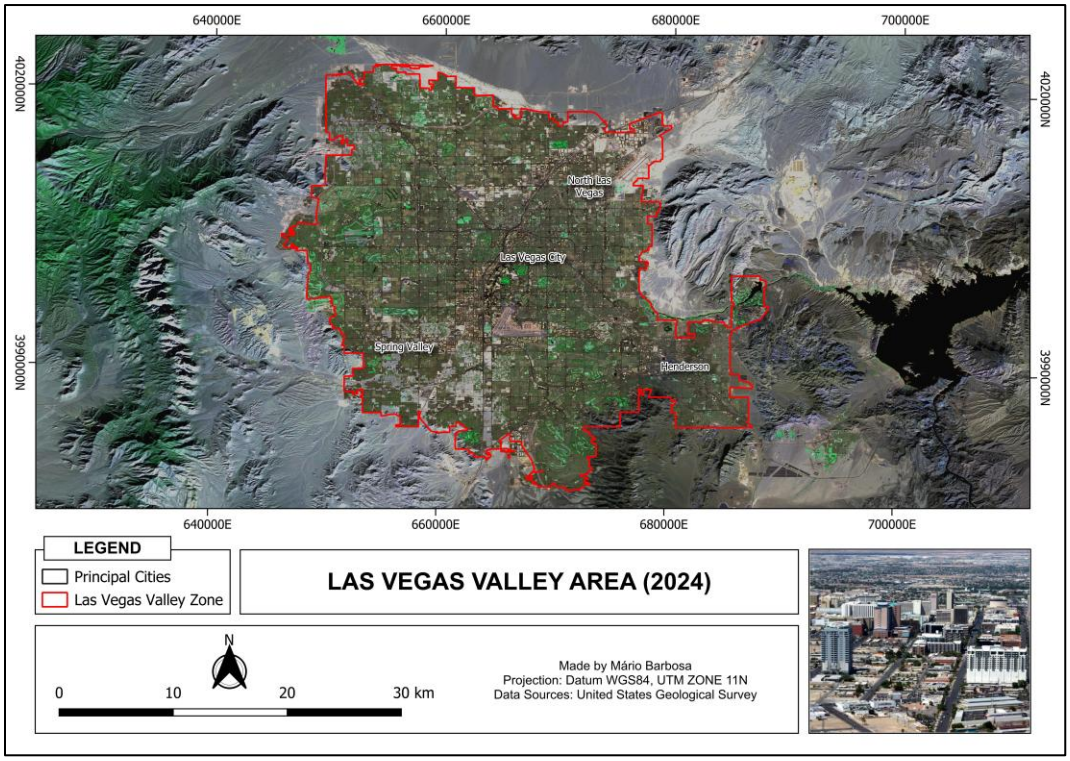
640000E
660000E
680000E
700000E
4020000N
3990000N
North Las Vegas
Las Vegas City
Spring Valley
Henderson
LEGEND
Principal Cities
Las Vegas Valley Zone
LAS VEGAS VALLEY AREA (2024)
N
0
10
20
30 km
Made by Mário Barbosa
Projection: Datum WGS84, UTM ZONE 11N
Data Sources: United States Geological Survey

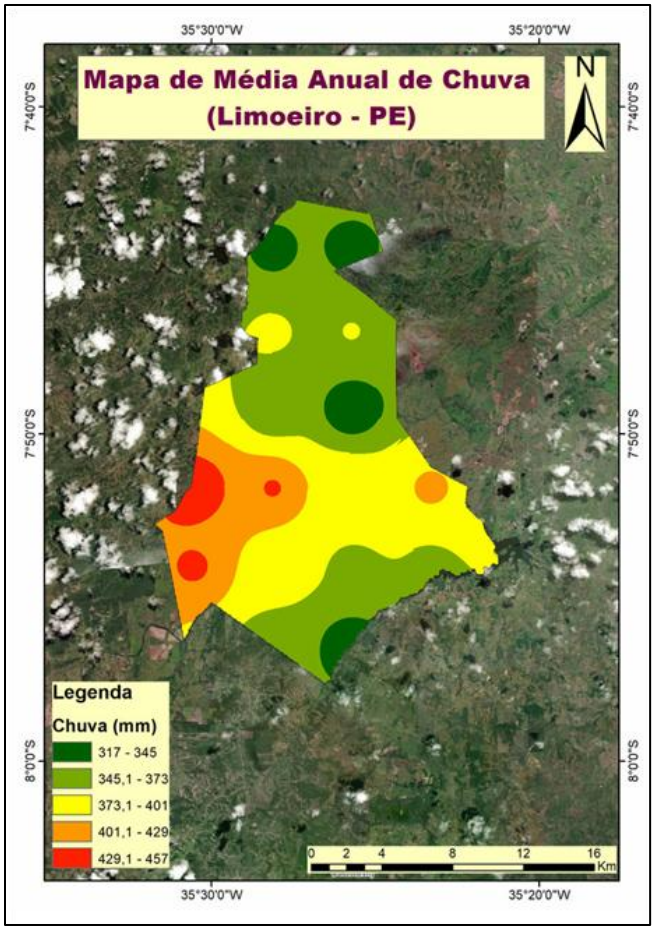
Mapa de Média Anual de Chuva
(Limoeiro - PE)
N
35°30'0"W
35°20'0"W
7°40'0"S
7°50'0"S
8°0'0"S
Legenda
Chuva (mm)
317 - 345
345,1 - 373
373,1 - 401
401,1 - 429
429,1 - 457
0 2 4 8 12 16
Km